Wesley & Abby Cornelius

58.73 Acres More or Less
Section 18, Bogard Township
Daviess County, Indiana

Client:

First Farmers Bank & Trust
101 W. Sycamore Street, 6th Floor
Kokomo, IN 46901

Intended User:

First Farmers Bank & Trust and Agri-Access

Prepared By:

Brian S. Myers
CG40700603
Certifed General

Date of Report:

December 31, 2025

Contents

Executive Summary..... 3
Subject Information..... 3
Value Conclusion..... 3
USPAP Requirements..... 4
Sales Comparison Approach..... 6
Definition of Market Value:..... 7
Assumptions and Limiting Conditions..... 8
Appraiser Certification..... 9
Addenda..... 10
Legal Description..... 11
Plat..... 14
Aerial Image..... 15
Soil Map..... 16
Topography..... 17
FEMA Flood..... 18
Sales Map..... 19
Satellite Map..... 20

Executive Summary

Customer:	Wesley & Abby Cornelius	**Value Definition:**	Market value per FIRREA
Date of Report:	December 31, 2025	**Purpose:**	Develop and express an opinion of Market Value
Effective Date:	December 22, 2025		
Inspection Date:	N/A	**Intended Use:**	Establish an opinion of market value of collateral for lending purposes
Rights Appraised:	Fee Simple		

Subject Information

Acres:	58.73 acres	**Property Type:**	Cropland
Township:	Bogard	**Property Land Use:**	Cropland
County/State:	Daviess, Indiana	**Legal Access:**	Yes
Sec/Twp/Range:	18/4N/6W	**Physical Access:**	Adequate
Zoning:	A-1 (Agriculture)	**Exposure Time (days):**	30-120
HBU Conclusion:	Cropland	**Marketing Time (days):**	30-120

Current Ownership/Marketing History:

The subject **is not** currently listed for sale.
The subject **is not** currently under contract.
The subject **has not** sold in the past 3 years.

Listing Price:
Contract Price:
Sale Price:
Sale Date:

Comments: According to the county Assessor's office records; the property has not been transferred or sold in the past three-years prior to the effective date of the appraisal report. The property is not currently listed for sale, nor has it been listed or offered for sale in the past twelve-months.

Value Conclusion

Opinion of Value:	**$1,165,000**		
Allocation of Value		**Allocation of Income/Expenses**	
Land:	$1,165,000	**Gross Income:**	$19,180
Dwellings:	$	**Expenses:**	$
Other Improvements:	$	**Net Income:**	$19,180

Allocations are contributions to the total value and should not be considered conclusions of value for individual components.

Land Use	Acres	$/Acre	Total
Cropland A	1.75	$23,313	$40,798
Cropland B	31.26	$20,982	$655,890
Cropland C	25.11	$18,650	$468,313
Pasture	0.00	$6,994	$00
Woods	0.00	$9,325	$00
Site	0.00	$23,313	$00
Roads/Waste	0.61	$00	$00

Unimproved Property

Improvement	Size	Total

USPAP Requirements

Notice of Use Restriction: This is a Restricted Appraisal Report as defined and permitted by Standards Rule 2-2(b) Uniform Standards of Professional Appraisal Practice (USPAP). It cannot be properly understood without the additional information contained in the work file. Its use is limited to the client named herein and for the specific use stated. Consideration, reliance, or use by anyone other than the recipient specifically referenced in the report and for the specified use is prohibited. The appraiser has established that the client understands the limited utility of this "Restricted Appraisal Report" and has established that a "Restricted Appraisal Report" is suitable for the intended use stated herein.

Specific File Information: The appraiser acknowledges the existence of a work file containing specific file information regarding the appraisal conducted for this subject property. The work file is available and may be inspected upon request by the client, such third parties as may be authorized by due process of law, and duly authorized professional peer review committees.

The appraiser has established that the client understands the limited utility of this "Restricted Appraisal Report" and has established that a "Restricted Appraisal Report" is suitable for the intended use stated herein.

Extent of Process/Scope:

REPORT TYPE: This is a Restricted Appraisal utilizing a model assisted valuation process.

SPECIFIC DATA COLLECTION, CONFIRMATION, AND REPORTING: Factual information about the subject was obtained from various possible sources, including the client, Farm Services Agency, and county public records. Area and Regional information is not included as part of this report. The opinion of highest and best use is developed based on the physical characteristics of the property, the market data and trends, and information obtained from public sources.

COLLECTION AND CONFIRMATION OF SALES DATA: The appraiser is employed by Compeer Financial. Comparable sales data is collected on an ongoing basis by Compeer staff appraisers from public records, realtors, lending officers, bankers, attorneys, or others connected personally with the sale. Prior to submission to the database, sales are confirmed and prices are verified by public records, buyers, sellers, or others involved with the sales transaction. Compeer appraisers have personally viewed and analyzed each sale unless indicated otherwise.

A new public record sales data search was not conducted in conjunction with this appraisal. Sales within the subject market area are used in the appraisal with emphasis on the most recent sales with similar attributes to the subject property. Sales information at times is also collected from other Compeer employees. Most pending and/or non-recorded sales used are recent auction sales attended by the appraiser or sales confirmed by a copy of the sales contract.

The appraisal is completed for the sole and exclusive use of the Client in accordance and conformity with Uniform Standards of Professional Appraisal Practice utilizing an appraiser adjusted model assisted valuation process, and is subject to the Statement of Assumptions and Limiting Conditions contained in this report.

The client is requesting a Restricted Appraisal Report, whereby the data analysis may be completed at the appraiser's desk without a physical inspection of the subject property. Reliance is placed on one or a combination of sources for economic and physical characteristics that include: owners' records, county records, AgriData Incorporated, Google Earth Pro, Multiple Listing Services, sale brochures, real estate auctions, historic files, other appraisal reports, and the appraiser's knowledge of the area and the factors that influence real estate values. The analysis includes investigation of physical and economic factors relating to the subject, highest and best use, and the most applicable valuation approaches to determine a credible result.

Statement of Exclusion of Any of the Usual Approaches to Value: The Cost Approach and Income Capitalization Approach are excluded by prior agreement with the client for the scope of this assignment. The Cost Approach typically does not add an independent indication of value and would closely mirror the same sales and mathematics utilized in the Sales Comparison Approach, on bare land or minimally improved properties. The Income Capitalization Approach is not completed due to the difficulty in verification of markets rents. Additionally, this approach is very sensitive to the rental opinion of the subject/sales, expense estimates and the opinion and application of capitalization rates. Value indications can skew in a wide range. An Income Analysis is included, when requested by the client, for internal debt coverage ratio calculations.

Hypothetical Conditions: A hypothetical condition is defined as "A Condition directly related to a specific assignment, which is contrary to what is known by the appraiser to exist on the effective date of the assignment results, but is used for the purpose of analysis." (The Dictionary of Real Estate Appraisal. 6th ed. Chicago, IL: Appraisal Institute, 2015. Print).

The use of a hypothetical condition may affect assignment results.

1) Any sales listed as a Pending Sale or a Contract Sale that have not consummated as of the effective date of the appraisal are considered to be a Hypothetical Condition. In these cases, the appraiser has confirmed the terms of the Pending Sale or Contract Sale through another party prior to it being publicly available.

Extraordinary Assumptions: An extraordinary assumption is defined as "An assumption, directly related to a specific assignment, as of the effective date of the assignment results, which, if found to be false, could alter the appraiser's opinions or conclusions." *(*The Dictionary of Real Estate Appraisal. 6th ed. Chicago, IL: Appraisal Institute, 2015. Print*)*.

The use of an extraordinary assumption may affect assignment results.

None

Sales Comparison Approach

Sale Data	Subject	Sale #1	Sale #2	Sale #3	Sale #4	Sale #5
Grantor		Taylor, Michael & Julie	Taylor, Michael & Julie	Morrison, Lori A.	EMC Family Farm, LLC	McGuire Asset Trust
Grantee		Boyd Leasing, LLC	Holstine, Marvin & Amy	JGSR Trust	Northern Property & Development, LLC	Wagler, Eldon
Source		Multiple	Multiple	Assessor	MLS	Assessor
Date	12/22/2025	6/18/2025	6/18/2025	7/30/2025	9/26/2025	11/17/2025
Eff Size	58.7 Acres	115.9	80.0	20.0	122.3	70.0
Sale Price		$2,318,800	$1,600,000	$300,000	$2,050,000	$1,400,000
Finance Adj		Cash	Cash	Cash	Cash	Cash
CEV Price		$2,318,800	$1,600,000	$300,000	$2,050,000	$1,400,000
Price/Acre		$20,000	$20,000	$15,000	$16,761	$20,000
LAND AND IMPROVEMENT ADJUSTMENTS						
Land Adj		$656	$807	$1,042	$979	$1,507
Impvt Adj		$	$	$	$	$
Adj Price		$20,656	$20,807	$16,042	$17,739	$21,507
MARKET CONDITIONS ADJUSTMENTS						
	Months	6	6	5	3	1
	Rate Per Month	0.00%	0.00%	0.00%	0.00%	0.00%
	Market Cond Adj	$	$	$	$	$
OTHER ADJUSTMENTS						
Tract Size $ Adj/Unit		Similar $	Similar $	Inferior $2,406	Similar $	Similar $
Net Adj		$656	$807	$3,449	$979	$1,507
Adj Price		$20,656	$20,807	$18,449	$17,739	$21,507

Per-unit Indication	$19,825
Subject Acres	58.73
Effective Date	December 22, 2025
Opinion of Value	$1,165,000

APPRAISER COMMENTS: All five sales are recent transactions located in close proximity to the subject property. They are also generally similar to the subject in terms of land mix and topography. All of the sales are being considered and are being given about equal weighting.

Definition of Market Value:

The most probable price which a property should bring in a competitive and open market under all conditions requisite to a fair sale, the buyer and seller each acting prudently and knowledgeably, and assuming the price is not affected by undue stimulus. Implicit in this definition is the consummation of a sale as of a specified date and the passing of title from seller to buyer under conditions whereby;

1. Buyer and seller are typically motivated;
2. Both parties are well informed or well advised, and acting in what they consider their best interests;
3. A reasonable time is allowed for exposure on the open market;
4. Payment is made in terms of cash in United States dollars or in terms of financial arrangements comparable thereto; and
5. The price represents the normal consideration for the property sold unaffected by special or creative financing or sales concessions granted by anyone associated with the sale.

The source of the definition of Market Value for Federally Insured Financial Institutions is: "The Appraisal of Real Estate - 12th Edition", Page 23 per Federal Register, Volume 55, Number 163, August 22, 1990, Pages 34228 and 34229.

All values are expressed in terms of CASH, US DOLLARS.

Assumptions and Limiting Conditions

1) The reported analyses, opinions, and conclusions are developed, and this report has been prepared, in conformity with the Uniform Standards of Professional Appraisal Practice.
2) This appraisal is subject to review for quality control purposes and by professional organizations such as the American Society of Farm Managers and Rural Appraisers (ASFMRA) and/or the Appraisal Institute.
3) All supportive documentation and work papers in the work file are the property of the appraiser. Information found in the work file is not always included in the appraisal report depending on the relevance or sensitivity of this documentation.
4) Although the subject property's land and buildings (if any) have separate value allocations, these values must not be extracted solely without consideration to the entire property appraised. Any value provided in the report applies to the entire property, and any portion or division of the total will invalidate the value opinion, unless such portion or division has been set forth in the report.
5) Although a borrower may receive a copy of this appraisal, the appraisal itself is for the exclusive use of the lender and the specific parties identified in the report as intended users for their evaluation of the property as collateral. The appraiser has not identified any purchaser, borrower or seller as an intended user of the appraisal and no such party should use or rely on this appraisal for any purpose. Such parties are advised to obtain an appraisal from an appraiser of their own choosing if they require an appraisal for their own use. The appraisal report should not serve as the basis for any property purchase decision or any appraisal contingency in a purchase agreement relating to the property.
6) The appraiser is not an environmental expert and is not qualified to verify or detect the presence of hazardous substances by visual inspection or otherwise. The appraiser is not qualified to determine the effect, if any, of known or unknown substances present. Unless otherwise stated, the final value conclusion is based on the subject property being free of hazardous waste contamination, and is specifically assumed that the present and subsequent ownership will exercise due diligence to ensure that the property does not become otherwise contaminated. The appraiser lacks the expertise to assess environmental hazards and accepts no liability for any past, present or future hazard.
7) The value opinion expressed in this report is considered credible only on the effective date of value. The level of credibility diminishes as time moves further from the effective date. As the subject's physical characteristics, the broader market conditions, the general economy, and government laws change over time, the reliability of the conclusions stated in this report decrease.
8) No liability is assumed for the soundness of structural members since structural elements were not tested or studied to determine their structural integrity. The appraiser recommends the client hire an expert in the appropriate discipline.
9) If the client has any concern regarding mechanical, or protective components of the improvements, or the adequacy or quality of sewer, water, or other utilities, the appraiser recommends the client hire an expert in the appropriate discipline.
Additionally, to detect the presence of any insect, termite, or pest infestation, the appraiser recommends the client hire an expert to perform a professional inspection.
10) Unless otherwise stated in the report, potential income, vacancies, and all expenses shown in the Income Analysis (if used) are only opinions based on observations in the market. The subject property's actual income and expenses may vary from what is shown in this report.
11) The subject is appraised on a lien free basis.
12) The appraiser received information from various individuals and public officials.
13) It is assumed that the information provided by others is factual and the results of the report are dependent upon the information received.
14) In compliance with SR 1-2(e) (iv), the appraiser has assumed there are no adverse easements or encroachments that affect value. The appraiser has not performed a title search of the property. The client should review the evidence of title for the property for any adverse instruments that appear of record and review these with the appraiser.

Additional Limiting Conditions

Appraiser Certification

I certify that, to the best of my knowledge and belief:

1. The statements of fact contained in this report are true and correct.
2. The reported analyses, opinions, and conclusions are limited only by the reported assumptions and limiting conditions, and are my personal, impartial, and unbiased professional analysis, opinions, and conclusions.
3. I have no present or prospective interest in the property that is the subject of this report and I have no personal interest with respect to the parties involved.
4. I have performed no services, as an appraiser or in any other capacity, regarding the property that is the subject of this report within the three-year period immediately preceding acceptance of this assignment.
5. I have no bias with respect to the property that is the subject of this report or to the parties involved with this assignment.
6. My engagement in this assignment was not contingent upon developing or reporting predetermined results.
7. My compensation for completing this assignment is not contingent upon the development or reporting of a predetermined value or direction in value that favors the cause of the client, the amount of the value opinion, the attainment of a stipulated result, or the occurrence of a subsequent event directly related to the intended use of this appraisal.
8. My analyses, opinions, and conclusions were developed, and this report has been prepared, in conformity with the *Uniform Standards of Professional Appraisal Practice.*
9. I have not made a personal inspection of the property that is the subject of this report.
10. No one provided significant real property appraisal assistance to the person signing this certification.

A. *Any person or entity that uses or relies on this appraisal and/or the statements and opinions contained herein does so at their own risk. The association expressly disclaims any liability to any and all persons and/or entities, for any and all damages caused by or connected in any way with any such use or reliance on this appraisal and its contents.*

Effective Date of Appraisal: 12/22/2025	**Opinion of Value:** $1,165,000

Appraiser(s):

Brian S. Myers

Name: Brian S. Myers
License#: CG40700603
License Type: Certifed General

Date Signed: December 31, 2025

Addenda

Legal Description

214721 WD $25.00
11/05/2021 09:12:58A 3 PGS
Rosetta Newton
Daviess County County Recorder IN
Recorded as Presented

DULY ENTERED FOR TAXATION
SUBJECT TO FINAL ACCEPTANCE
FOR TRANSFER

NOV 05 2021

Patricia K Ball
AUDITOR, DAVIESS COUNTY

WARRANTY DEED

THIS INDENTURE WITNESSETH THAT Michael R. Myers and Christine W. Myers, husband and wife, an undivided one-half (½) interest and Julie A. Taylor and C. Michael Taylor, husband and wife, an undivided one-half (½) interest, as tenants in common, of Daviess County, in the State of Indiana, **CONVEY AND WARRANT TO Wesley Cornelius and Abby Cornelius, husband and wife**, of Daviess County, in the State of Indiana, for and in consideration of One Dollar and other valuable consideration, the receipt whereof is hereby acknowledged, the following Real Estate in Daviess County, in the State of Indiana, to-wit:

(Parcel No. 14-06-18-300-010.001-004)
Nine (9) acres off the North end of the East Half of the Southwest Quarter of the Southwest Quarter, all in Section 18, Township 4 North, Range 6 West.

(Parcel No. 14-06-18-300-017.000-004)
The Southeast Quarter of the Southwest Quarter; the East Half of the Southwest Quarter of the Southwest Quarter and the Northwest Quarter of the Southwest Quarter, all in Section 18, Township 4 North, Range 6 West and containing 100 acres, more or less.

EXCEPTING THEREFROM: The Northwest Quarter of the Southwest Quarter and Nine (9) acres off the North end of the East Half of the Southwest Quarter of the Southwest Quarter all in Section 18 Township 4 North, Range 6 West and containing in the tract conveyed herein 49.00 acres, more or less.

EXCEPTING THEREFROM: A part of the South one-half of the Southwest Quarter of Section 18, Township 4 North, Range 6 West described as follows: Beginning 1135.6 feet East of the Southwest corner of the Southwest Quarter of said Section 18, and running thence North 336.0 feet; thence East 80.0 feet; thence South 135.0 feet; thence East 142.0 feet; thence South 201.0 feet; thence West 222.0 feet to the place of beginning, containing 1.2723 acres.

Grantors also grants to Grantees all rights of reasonable ingress and egress to the above described tract over and through the East Half of the Southwest Quarter of the Southwest Quarter. This easement is to run with the land.

Subject to oil, gas and coal leases, conveyances, and reservations of record.

Subject to all other encumbrances, covenants, easements, utility easements, right of way agreements, and restrictions of record.

Subject to the 2021 real estate taxes due and payable in 2022, and all subsequent real estate taxes due and payable thereafter.

Richard L. Myers who retained a life estate died November 28, 2020.

IN WITNESS WHEREOF, Grantors have executed this Deed this 2nd day of November, 2021.

Michael R. Myers **Christine W. Myers**

C. Michael Taylor **Julie A. Taylor**

STATE OF INDIANA, COUNTY OF DAVIESS, SS

Before me, a Notary Public in and for said County and State, personally appeared **Michael R. Myers and Christine W. Myers, husband and wife, and Julie A. Taylor and C. Michael Taylor, husband and wife, as tenants in common**, who executed the foregoing Deed, and who having been duly sworn, stated that the representations therein contained are true.

Witness my hand and Notarial Seal this 2nd day of November, 2021.

SUSAN J DAVIS
Notary Public – Notary Seal
State of Indiana
Daviess County
My Commission Expires April 10, 2024

Susan J. Davis

Susan J. Davis, Notary Public
Resident of Daviess County, IN

Send tax statements to: Wesley Cornelius & Abby Cornelius
4512 E 1000 N, Plainville, IN 47568

Grantee's Address: 4512 E 1000 N, Plainville, IN 47568

Grantor's Address: 4 Rose Lane, Washington, IN 47501
562 E 675 N, Washington, IN 47501

This instrument prepared by: Brent Stuckey, Attorney-at-Law, Hart Bell, LLC, 513 Main Street, P. O. Box 979, Vincennes, Indiana 47591, at the specific request of GRANTOR based solely on information supplied by one or more of the parties to this conveyance and without examination of title or abstract. The drafter assumes no liability for any errors, inaccuracy, or omissions in this instrument resulting from the information provided, the parties hereto signifying their assent to this disclaimer by GRANTOR'S execution and GRANTEE'S acceptance of the instrument.

I affirm, under the penalties for perjury, that I have taken reasonable care to redact each social security number in this document, unless required by law. Brent Stuckey

I:\Title Work\Title Work\Title Work\Title Work\Yearly Data Files\2021\21129 Deed.wpd

Plat

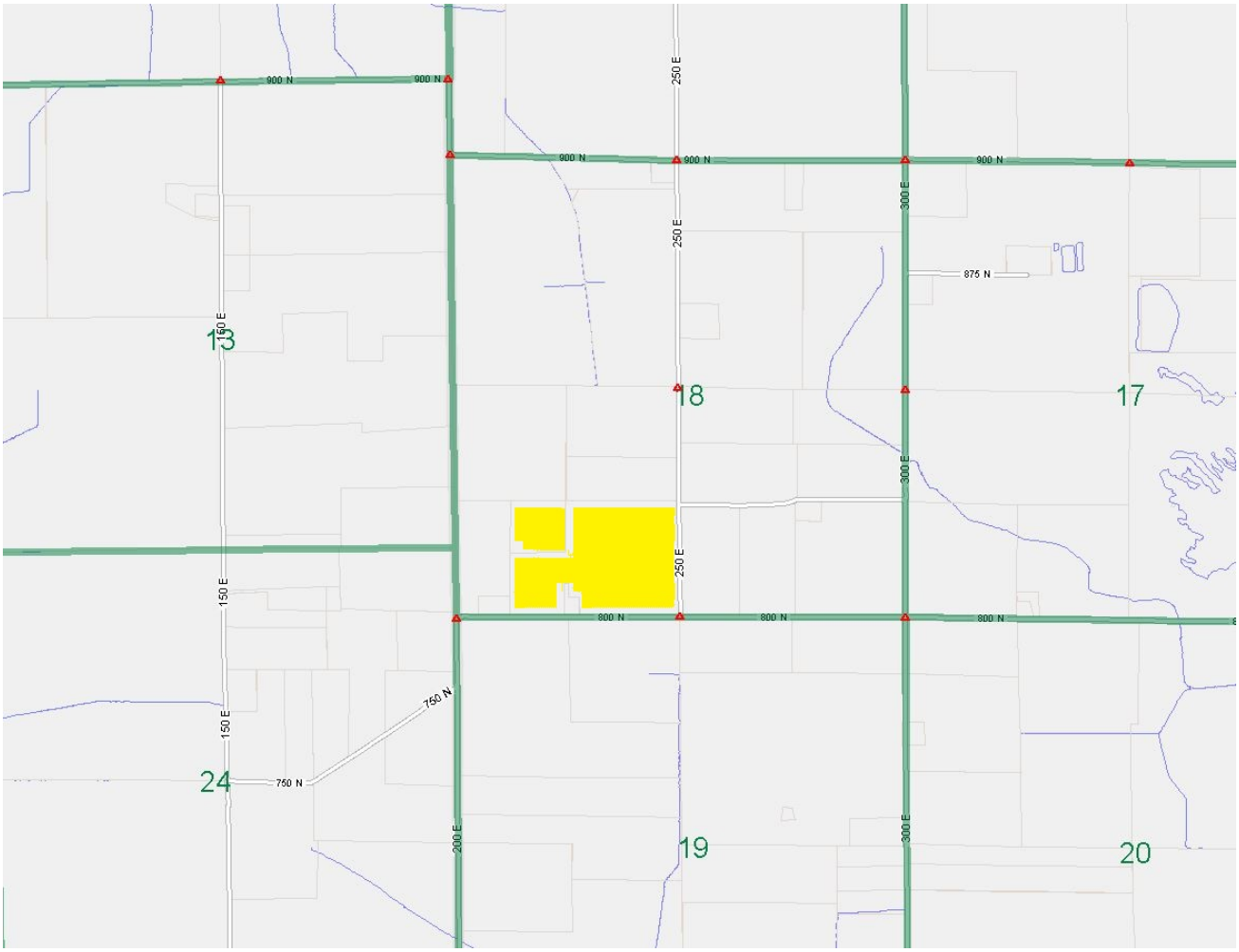
900 N
900 N
900 N
900 N
900 N
250 E
250 E
300 E
875 N
13
18
17
150 E
150 E
150 E
250 E
300 E
800 N
800 N
800 N
750 N
750 N
24
200 E
19
300 E
20

Aerial Image

Aerial Map

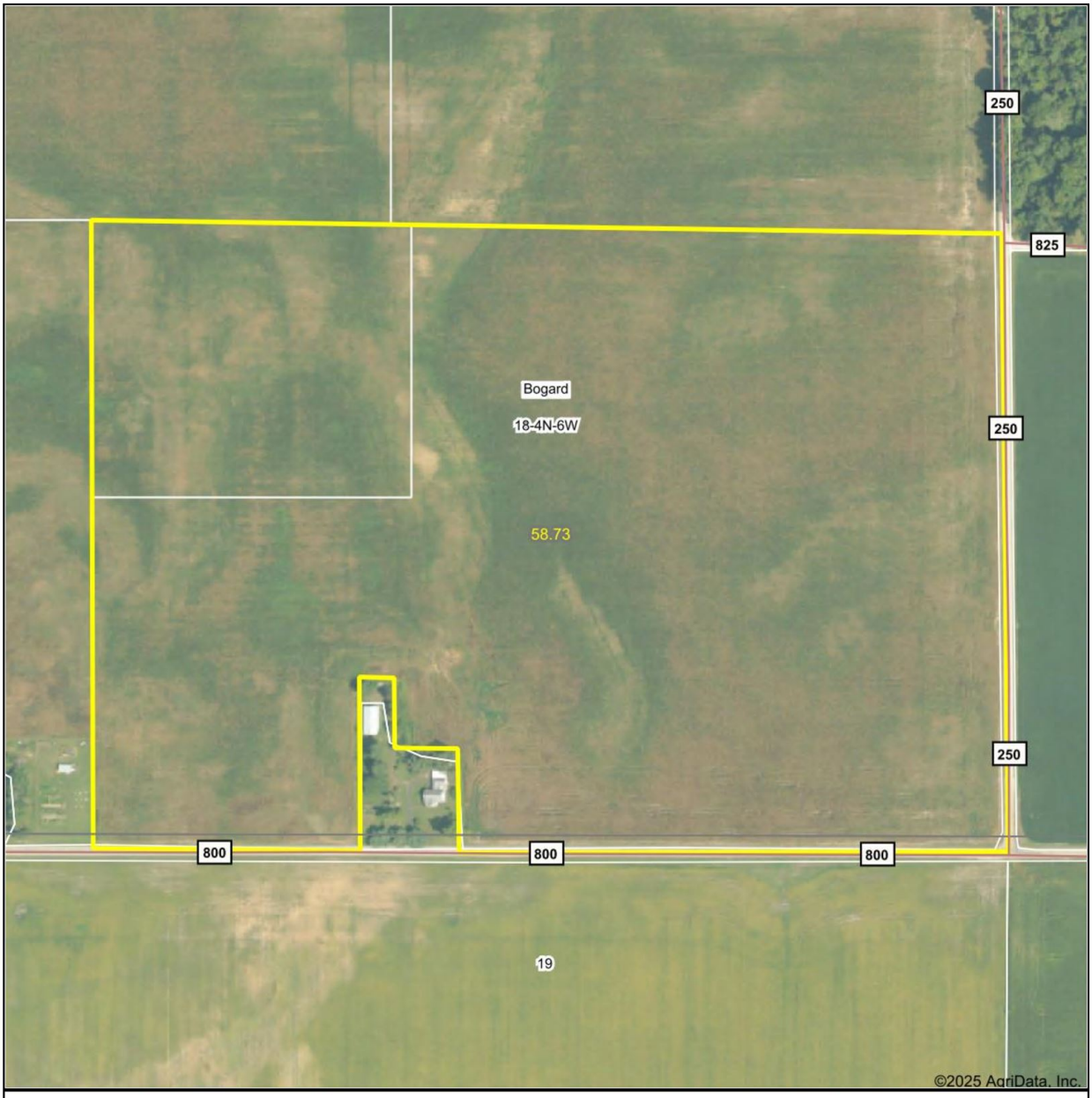

AGRI-ACCESS®

Maps Provided By:
surety® CUSTOMIZED ONLINE MAPPING
© AgriData, Inc. 2025 www.AgriDataInc.com

Field borders provided by Farm Service Agency as of 5/21/2008.

Boundary Center: 38.773780, -87.123936

18-4N-6W
Daviess County
Indiana

0ft 332ft 663ft

N W E S

12/24/2025

Soil Map

Soils Map

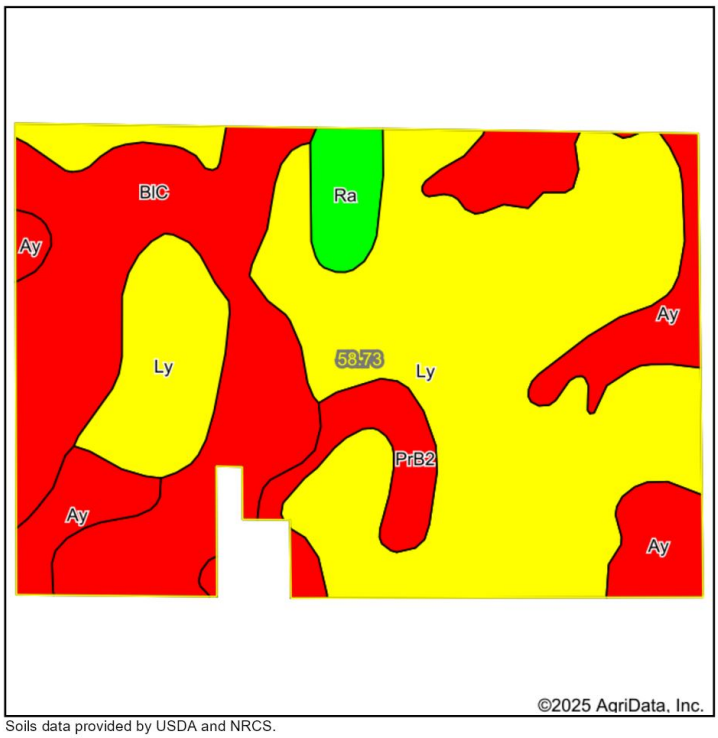

Soils data provided by USDA and NRCS.

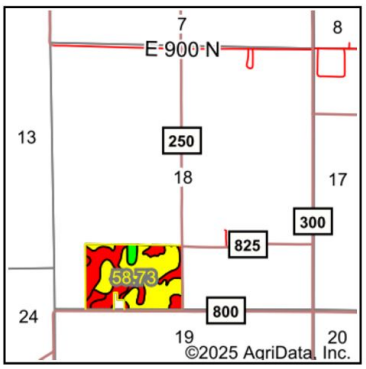

State: **Indiana**
County: **Daviess**
Location: **18-4N-6W**
Township: **Bogard**
Acres: **58.73**
Date: **12/24/2025**

Maps Provided By: surety CUSTOMIZED ONLINE MAPPING
© AgriData, Inc. 2025 www.AgriDataInc.com

N W E S

Area Symbol: IN027, Soil Area Version: 29								
Code	Soil Description	Acres	Percent of field	NCCPI Overall Legend	Non-Irr Class *c	Corn Bu	Soybeans Bu	*n NCCPI Overall
Ly	Lyles loam	31.55	53.8%		IIw	175	49	80
BIC	Bloomfield loamy fine sand, 6 to 12 percent slopes	14.80	25.2%		IIIe	85	30	58
Ay	Ayrshire fine sandy loam	7.95	13.5%		IIw	149	49	74
PrB2	Princeton fine sandy loam, 2 to 6 percent slopes, eroded	2.67	4.5%		IIe	130	46	73
Ra	Ragsdale silt loam	1.76	3.0%		IIw	190	54	88
				Weighted Average	**2.25**	**147.2**	**44.2**	***n 73.6**

*n: The aggregation method is "Weighted Average using all components"
*c: Using Capabilities Class Dominant Condition Aggregation Method

Soils data provided by USDA and NRCS.

Topography

Topography Hillshade

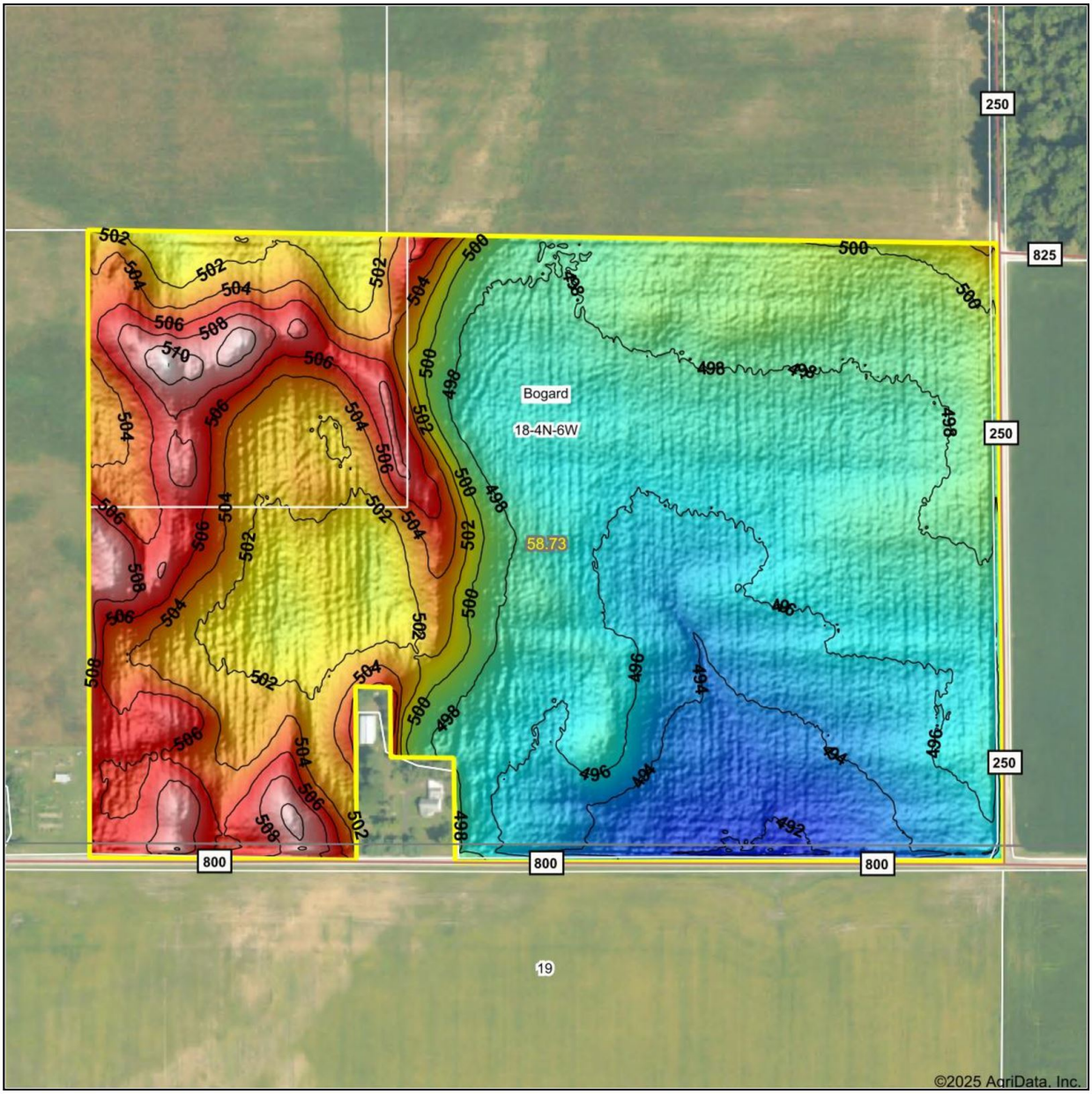

Low Elevation High

Source: USGS 1 meter dem
Interval(ft): 2
Min: 491.1
Max: 511.5
Range: 20.4
Average: 499.6
Standard Deviation: 4.33 ft

0ft 332ft 664ft

12/24/2025

18-4N-6W
Daviess County
Indiana

Boundary Center: 38.773780, -87.123936

AGRI-ACCESS®
Maps Provided By:
surety® CUSTOMIZED ONLINE MAPPING
© AgriData, Inc. 2025 www.AgriDataInc.com
Field borders provided by Farm Service Agency as of 5/21/2008.

FEMA Flood

FEMA Report

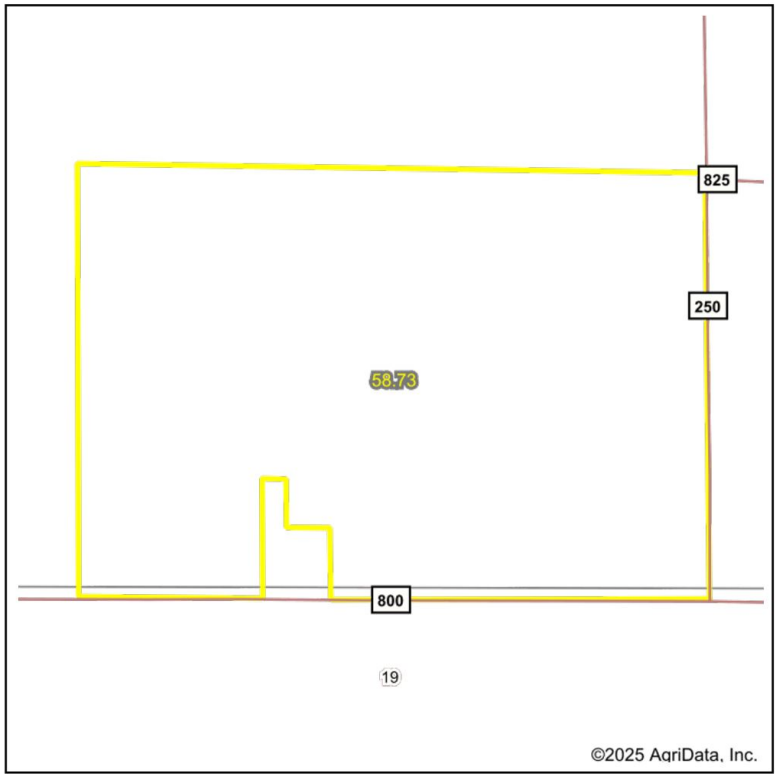

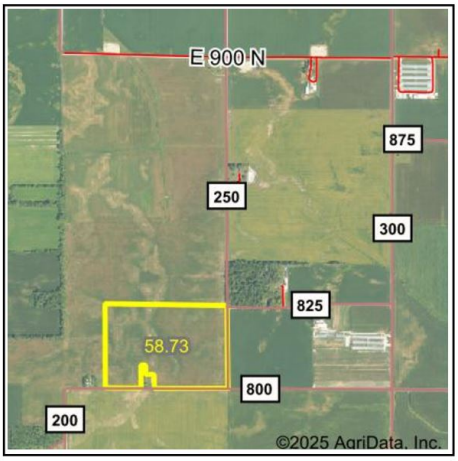

Map Center: 38.773725, -87.123967

State: IN Acres: 58.73

County: Daviess Date: 12/24/2025

Location: 18-4N-6W

Township: Bogard

AGRI-ACCESS®

Maps Provided By:

surety® CUSTOMIZED ONLINE MAPPING

© AgriData, Inc. 2025 www.AgriDataInc.com

N W E S

Name	Number	County	NFIP Participation	Acres	Percent
			Total	0	0%

Map Change	Date	Case No.	Acres	Percent
No			0	0%

Zone	SubType	Description	Acres	Percent
		Total	0	0%

Panel	Effective Date	Acres	Percent
	Total	0	0%

NOTICE!
It appears that your mapped area does not have digital FEMA information available to us.

Click Here to search FEMA.gov

for the non-digitized flood maps for this area.

Flood related information provided by FEMA

Sales Map

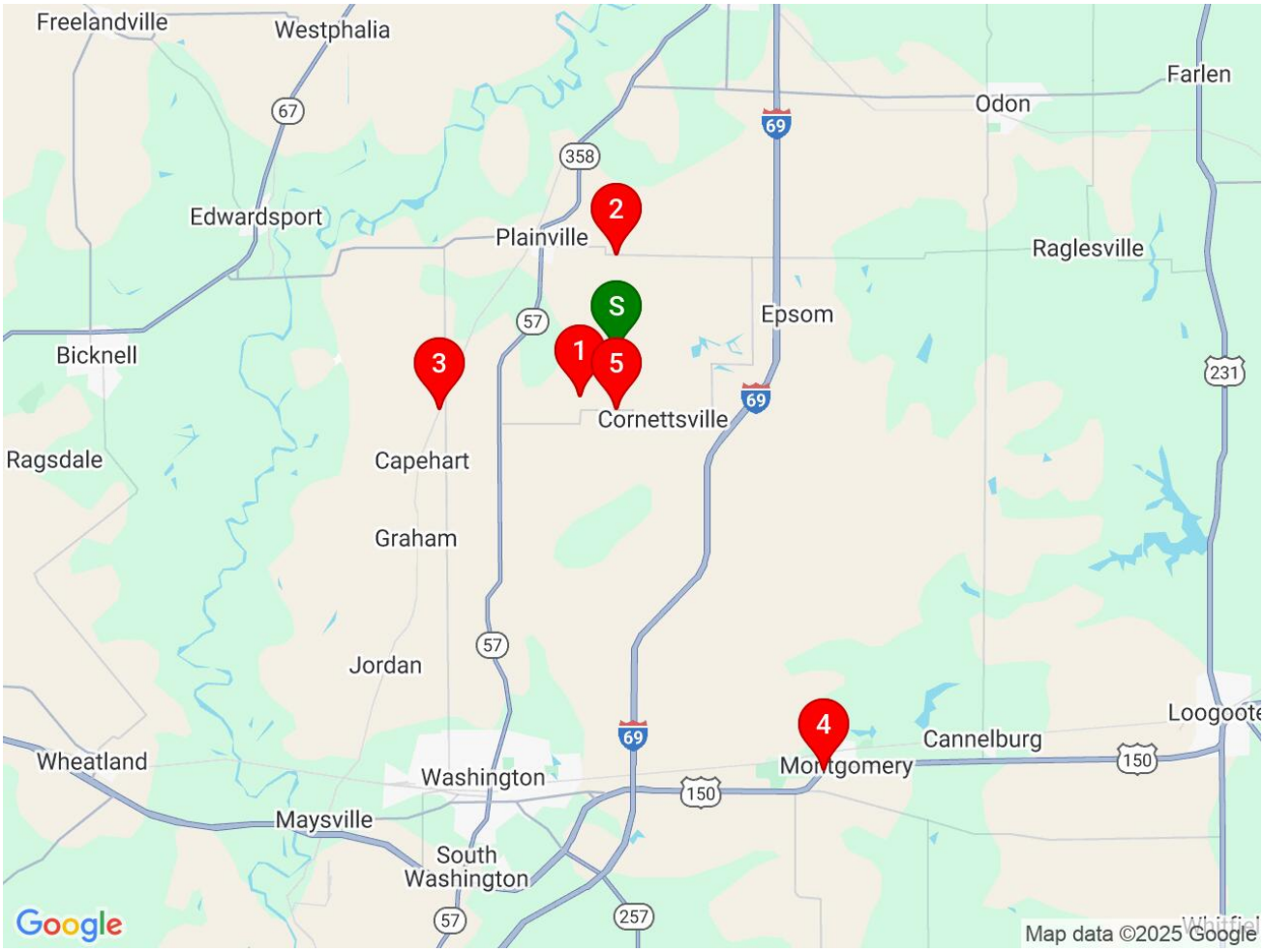
Freelandville
Westphalia
Farlen
Odon
Edwardsport
Plainville
Raglesville
Epsom
Bicknell
Cornettsville
Ragsdale
Capehart
Graham
Jordan
Cannelburg
Wheatland
Washington
Montgomery
Maysville
South Washington
Google
Map data ©2025 Google
1
2
3
4
5
S
67
358
69
57
231
150
257
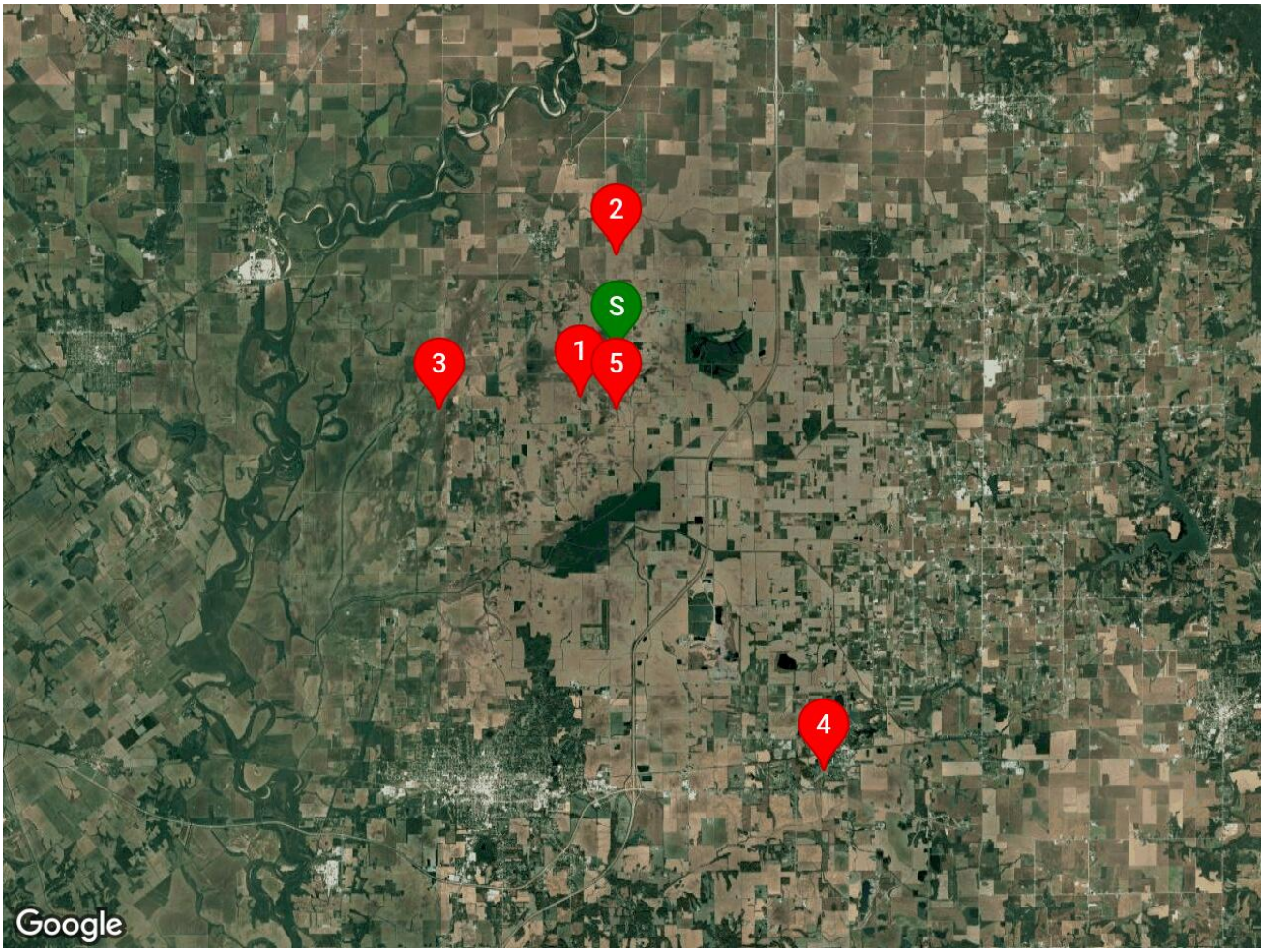
Satellite Map